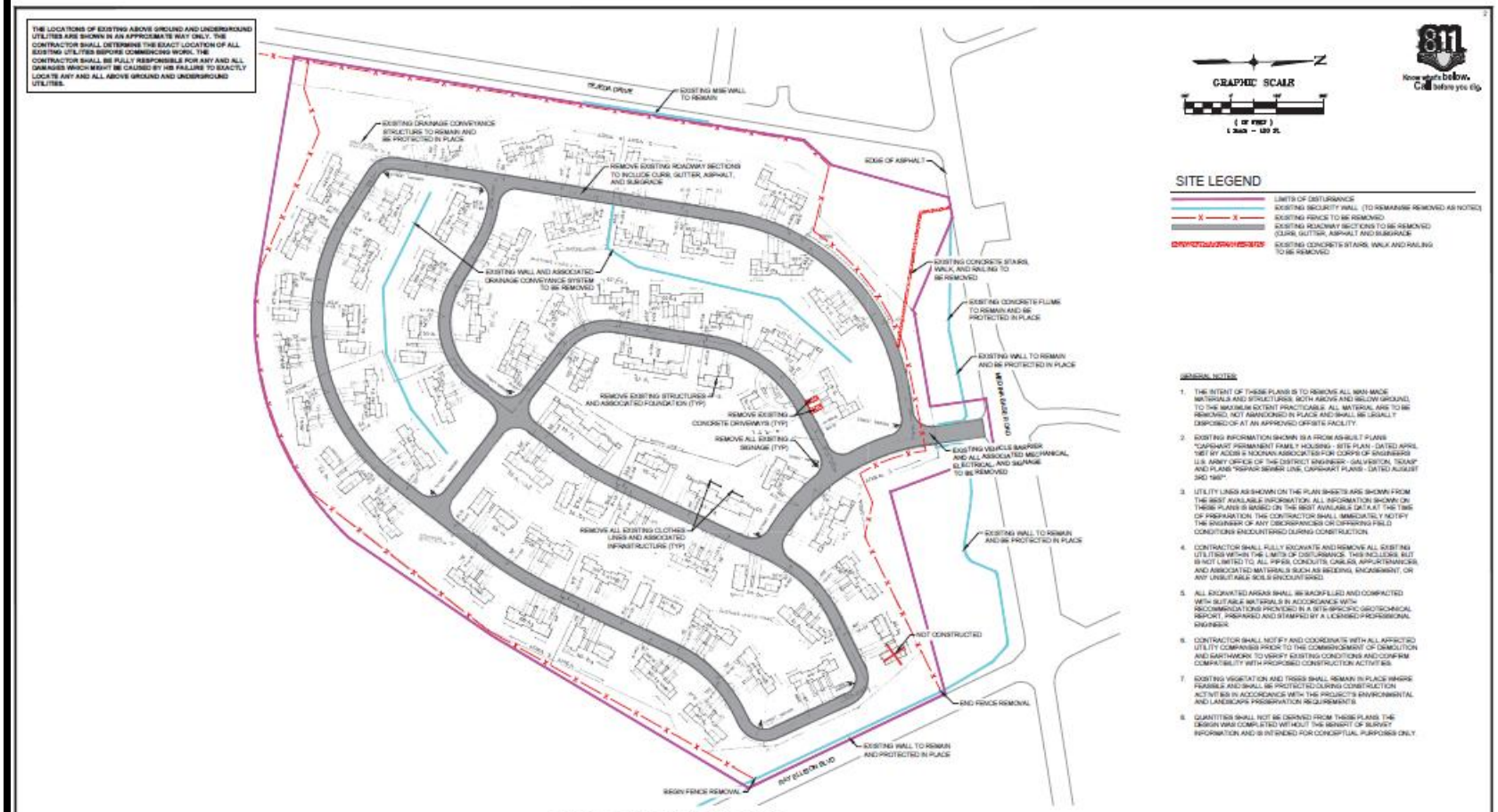

SITE DEMOLITION PLAN

SANITARY SEWER SYSTEM DEMOLITION PLAN

Attachment # 3

THE LOCATIONS OF EXISTING ABOVE GROUND AND UNDERGROUND UTILITIES ARE SHOWN IN AN APPROXIMATE WAY ONLY. THE CONTRACTOR SHALL DETERMINE THE EXACT LOCATION OF ALL EXISTING UTILITIES BEFORE COMMENCING WORK. THE CONTRACTOR SHALL BE FULLY RESPONSIBLE FOR ANY AND ALL DAMAGES WHICH MIGHT BE CAUSED BY HIS FAILURE TO EXACTLY LOCATE ANY AND ALL ABOVE GROUND AND UNDERGROUND UTILITIES.

WATER SYSTEM DEMOLITION PLAN

GRAPHIC SCALE

(IN FEET)
1 inch = 100 ft.

811 Know what's below. Call before you dig.

SITE LEGEND

- LIMITS OF DISTURBANCE
- REMOVAL OF 12" WATERMAIN
- REMOVAL OF 8" WATERMAIN
- REMOVAL OF 8" WATERMAIN
- REMOVAL OF WATER SERVICE (1" COPPER)
- REMOVAL OF FIRE HYDRANT AND ASSEMBLY

GENERAL NOTES:

1. THE INTENT OF THESE PLANS IS TO REMOVE ALL MAN-MADE MATERIALS AND STRUCTURES, BOTH ABOVE AND BELOW GROUND, TO THE MAXIMUM EXTENT PRACTICABLE. ALL MATERIAL HAS TO BE REMOVED, NOT ABANDONED IN PLACE AND SHALL BE LEGALLY DISPOSED OF AT AN APPROVED OFFSITE FACILITY.
2. EXISTING INFORMATION SHOWN IS A FROM AS-BUILT PLANS "CAPRAHART PERMANENT FAMILY HOUSING - SITE PLAN - DATED APRIL 1957 BY ADDIS & MOONAN ASSOCIATES FOR CORPS OF ENGINEERS U.S. ARMY OFFICE OF THE DISTRICT ENGINEER - GALVESTON, TEXAS" AND PLANS "REPAIR SEWAR LINE, CAPRAHART PLANS - DATED AUGUST 3RD 1987".
3. UTILITY LINES AS SHOWN ON THIS PLAN SHEETS ARE SHOWN FROM THE BEST AVAILABLE INFORMATION. ALL INFORMATION SHOWN ON THESE PLANS IS BASED ON THE BEST AVAILABLE DATA AT THE TIME OF PREPARATION. THE CONTRACTOR SHALL IMMEDIATELY NOTIFY THE ENGINEER OF ANY DISCREPANCIES OR DIFFERING FIELD CONDITIONS ENCOUNTERED DURING CONSTRUCTION.
4. CONTRACTOR SHALL FULLY EXCAVATE AND REMOVE ALL EXISTING UTILITIES WITHIN THE LIMITS OF DISTURBANCE. THIS INCLUDES, BUT IS NOT LIMITED TO, ALL PIPES, CONDUITS, CABLES, APPURTENANCES, AND ASSOCIATED MATERIALS SUCH AS BEDDING, ENCASEMENT, OR ANY UNSUITABLE SOILS ENCOUNTERED.
5. ALL EXCAVATED AREAS SHALL BE BACKFILLED AND COMPACTED WITH SUITABLE MATERIALS IN ACCORDANCE WITH RECOMMENDATIONS PROVIDED IN A SITE-SPECIFIC GEOTECHNICAL REPORT, PREPARED AND STAMPED BY A LICENSED PROFESSIONAL ENGINEER.
6. CONTRACTOR SHALL NOTIFY AND COORDINATE WITH ALL AFFECTED UTILITY COMPANIES PRIOR TO THE COMMENCEMENT OF DEMOLITION AND EARTHWORK TO VERIFY EXISTING CONDITIONS AND CONFIRM COMPATIBILITY WITH PROPOSED CONSTRUCTION ACTIVITIES.
7. EXISTING VEGETATION AND TREES SHALL REMAIN IN PLACE WHERE FEASIBLE AND SHALL BE PROTECTED DURING CONSTRUCTION ACTIVITIES IN ACCORDANCE WITH THE PROJECT'S ENVIRONMENTAL AND LANDSCAPE PRESERVATION REQUIREMENTS.
8. QUANTITIES SHALL NOT BE DERIVED FROM THESE PLANS. THE DESIGN WAS COMPLETED WITHOUT THE BENEFIT OF SURVEY INFORMATION AND IS INTENDED FOR CONCEPTUAL PURPOSES ONLY.

THE LOCATIONS OF EXISTING ABOVE GROUND AND UNDERGROUND UTILITIES ARE SHOWN IN AN APPROXIMATE WAY ONLY. THE CONTRACTOR SHALL DETERMINE THE EXACT LOCATION OF ALL EXISTING UTILITIES BEFORE COMMENCING WORK. THE CONTRACTOR SHALL BE FULLY RESPONSIBLE FOR ANY AND ALL DAMAGES WHICH MIGHT BE CAUSED BY HIS FAILURE TO EXACTLY LOCATE ANY AND ALL ABOVE GROUND AND UNDERGROUND UTILITIES.

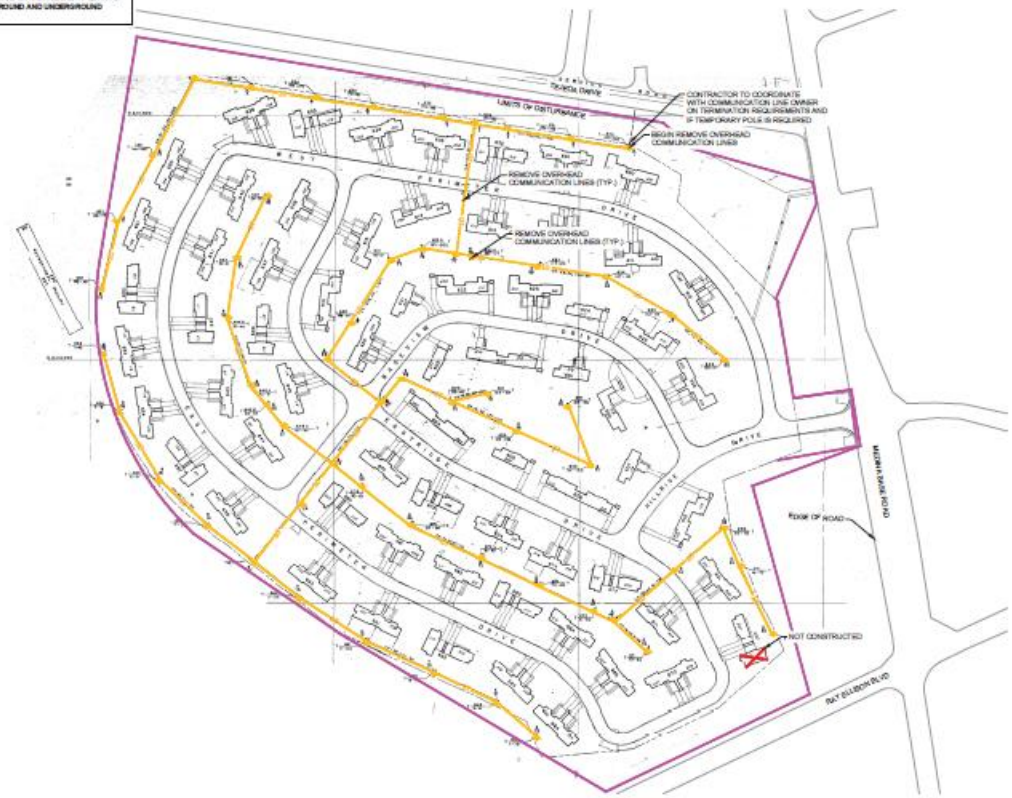

COMMUNICATION SYSTEM DEMOLITION PLAN

GRAPHIC SCALE

(IN FEET)
1 inch = 100 ft.

Know what's below. Call before you dig.

SITE LEGEND

- LIMITS OF DISTURBANCE
- REMOVAL OVERHEAD COMMUNICATION LINES
- REMOVAL COMMUNICATION POLE

GENERAL NOTES

1. THE INTENT OF THESE PLANS IS TO REMOVE ALL MAN-MADE MATERIALS AND STRUCTURES, BOTH ABOVE AND BELOW GROUND, TO THE MAXIMUM EXTENT PRACTICABLE. ALL MATERIAL ARE TO BE REMOVED, NOT ABANDONED IN PLACE AND SHALL BE LEGALLY DISPOSED OF AT AN APPROVED OFFSITE FACILITY.
2. EXISTING INFORMATION SHOWN IS A FROM AS-BUILT PLANS "CAPEHART PERMANENT FAMILY HOUSING - SITE PLAN - DATED APRIL 1952 BY ADDIS E MCGINN ASSOCIATES FOR CORPS OF ENGINEERS U.S. ARMY OFFICE OF THE DISTRICT ENGINEER - GALVESTON, TEXAS" AND PLANS "REPAIR SEWER LINE, CAPEHART PLANS - DATED AUGUST 3RD "1967".
3. UTILITY LINES AS SHOWN ON THE PLAN SHEETS ARE SHOWN FROM THE BEST AVAILABLE INFORMATION. ALL INFORMATION SHOWN ON THESE PLANS IS BASED ON THE BEST AVAILABLE DATA AT THE TIME OF PREPARATION. THE CONTRACTOR SHALL IMMEDIATELY NOTIFY THE ENGINEER OF ANY DISCREPANCIES OR DIFFERING FIELD CONDITIONS ENCOUNTERED DURING CONSTRUCTION.
4. CONTRACTOR SHALL FULLY EXCAVATE AND REMOVE ALL EXISTING UTILITIES WITHIN THE LIMITS OF DISTURBANCE. THIS INCLUDES, BUT IS NOT LIMITED TO, ALL PIPES, CONDUITS, CABLES, APPURTENANCES, AND ASSOCIATED MATERIALS SUCH AS BEDDING, ENCASEMENT, OR ANY UNSUITABLE SOILS ENCOUNTERED.
5. ALL EXCAVATED AREAS SHALL BE BACKFILLED AND COMPACTED WITH SUITABLE MATERIALS IN ACCORDANCE WITH RECOMMENDATIONS PROVIDED IN A SITE-SPECIFIC GEOTECHNICAL REPORT, PREPARED AND STAMPED BY A LICENSED PROFESSIONAL ENGINEER.
6. CONTRACTOR SHALL NOTIFY AND COORDINATE WITH ALL AFFECTED UTILITY COMPANIES PRIOR TO THE COMMENCEMENT OF DEMOLITION AND EARTHWORK TO VERIFY EXISTING CONDITIONS AND CONFIRM COMPATIBILITY WITH PROPOSED CONSTRUCTION ACTIVITIES.
7. EXISTING VEGETATION AND TREES SHALL REMAIN IN PLACE WHERE FEASIBLE AND SHALL BE PROTECTED DURING CONSTRUCTION ACTIVITIES IN ACCORDANCE WITH THE PROJECT'S ENVIRONMENTAL AND LANDSCAPE PRESERVATION REQUIREMENTS.
8. QUANTITIES SHALL NOT BE DERIVED FROM THESE PLANS. THE DESIGN WAS COMPLETED WITHOUT THE BENEFIT OF SURVEY INFORMATION AND IS INTENDED FOR CONCEPTUAL PURPOSES ONLY.

THE LOCATIONS OF EXISTING ABOVE GROUND AND UNDERGROUND UTILITIES ARE SHOWN IN AN APPROXIMATE WAY ONLY. THE CONTRACTOR SHALL DETERMINE THE EXACT LOCATION OF ALL EXISTING UTILITIES BEFORE COMMENCING WORK. THE CONTRACTOR SHALL BE FULLY RESPONSIBLE FOR ANY AND ALL DAMAGES WHICH MIGHT BE CAUSED BY HIS FAILURE TO EXACTLY LOCATE ANY AND ALL ABOVE GROUND AND UNDERGROUND UTILITIES.

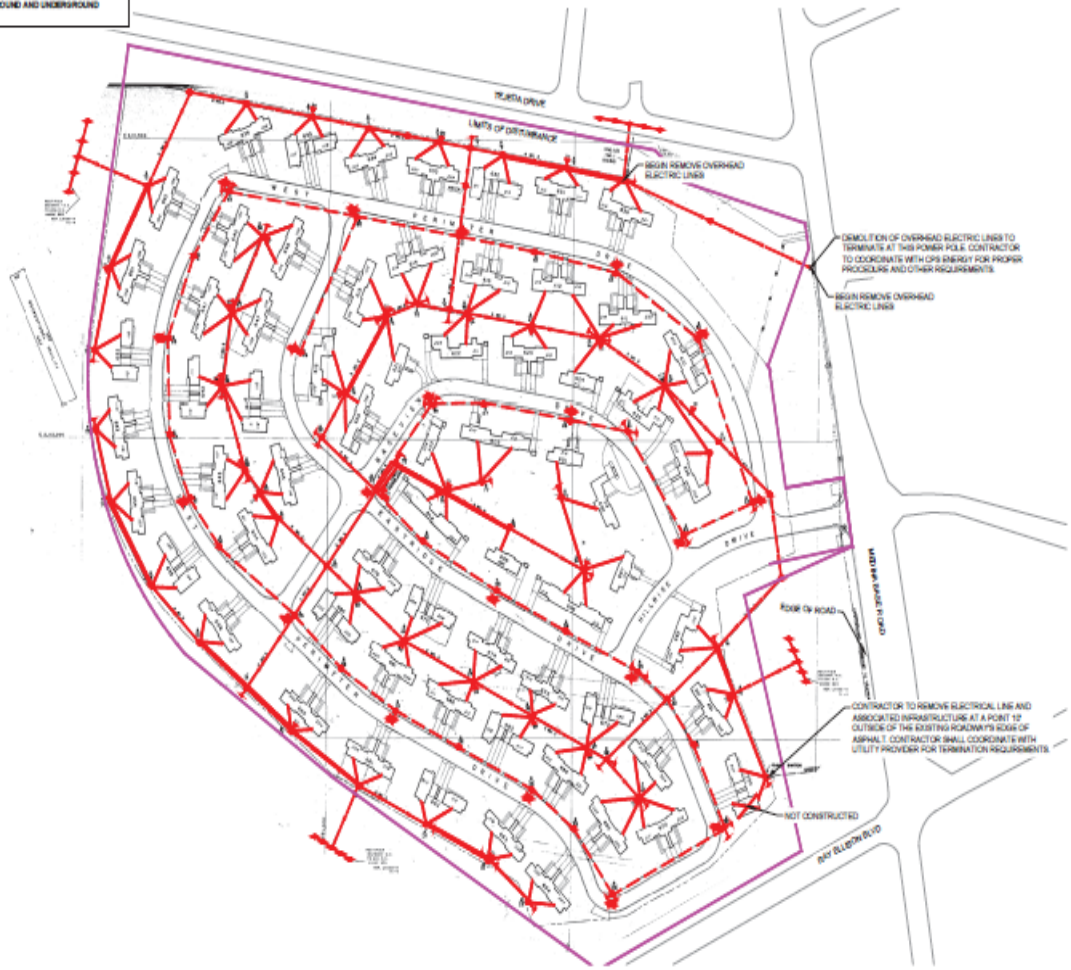

ELECTRICAL SYSTEM DEMOLITION PLAN

GRAPHIC SCALE

(IN FEET)
1 inch = 100 ft.

Know what's below. Call before you dig.

SITE LEGEND

- LIMITS OF DISTURBANCE
- REMOVAL OF OVER HEAD PRIMARY ELECTRIC LINES
- REMOVAL OF OVER HEAD SECONDARY ELECTRIC LINES
- REMOVAL OF OVER HEAD SERIES STREET LIGHT ELECTRIC LINES
- REMOVAL OF ELECTRIC POLE
- REMOVAL OF ELECTRIC POLE WITH STREET LIGHT
- REMOVAL OF TRANSFORMER
- REMOVAL OF GUY WIRE SUPPORT
- STREET OF LIGHTING REGULATOR
- REMOVAL OF ANODE BED

GENERAL NOTES:

1. THE INTENT OF THESE PLANS IS TO REMOVE ALL MAN-MADE MATERIALS AND STRUCTURES, BOTH ABOVE AND BELOW GROUND, TO THE MAXIMUM EXTENT PRACTICABLE. ALL MATERIAL ARE TO BE REMOVED, NOT ABANDONED IN PLACE AND SHALL BE LEGALLY DISPOSED OF AT AN APPROVED OFFSITE FACILITY.
2. EXISTING INFORMATION SHOWN IS A FROM AS-BUILT PLANS "CAPEHART PERMANENT FAMILY HOUSING - SITE PLAN - DATED APRIL 1957 BY ADDIS & MOONAN ASSOCIATES FOR CORPS OF ENGINEERS U.S. ARMY OFFICE OF THE DISTRICT ENGINEER - GALVESTON, TEXAS" AND PLANS "REPAIR SEWER LINE, CAPEHART PLANS - DATED AUGUST 3RD 1967".
3. UTILITY LINES AS SHOWN ON THE PLAN SHEETS ARE SHOWN FROM THE BEST AVAILABLE INFORMATION. ALL INFORMATION SHOWN ON THESE PLANS IS BASED ON THE BEST AVAILABLE DATA AT THE TIME OF PREPARATION. THE CONTRACTOR SHALL IMMEDIATELY NOTIFY THE ENGINEER OF ANY DISCREPANCIES OR DIFFERING FIELD CONDITIONS ENCOUNTERED DURING CONSTRUCTION.
4. CONTRACTOR SHALL FULLY EXCAVATE AND REMOVE ALL EXISTING UTILITIES WITHIN THE LIMITS OF DISTURBANCE. THIS INCLUDES, BUT IS NOT LIMITED TO, ALL PIPES, CONDUITS, CABLES, APPURTENANCES, AND ASSOCIATED MATERIALS SUCH AS BEDDING, ENCASEMENT, OR ANY UNSUITABLE SOILS ENCOUNTERED.
5. ALL EXCAVATED AREAS SHALL BE BACKFILLED AND COMPACTED WITH SUITABLE MATERIALS IN ACCORDANCE WITH RECOMMENDATIONS PROVIDED IN A SITE-SPECIFIC GEOTECHNICAL REPORT, PREPARED AND STAMPED BY A LICENSED PROFESSIONAL ENGINEER.
6. CONTRACTOR SHALL NOTIFY AND COORDINATE WITH ALL AFFECTED UTILITY COMPANIES PRIOR TO THE COMMENCEMENT OF DEMOLITION AND EARTHWORK TO VERIFY EXISTING CONDITIONS AND CONFIRM COMPATIBILITY WITH PROPOSED CONSTRUCTION ACTIVITIES.
7. EXISTING VEGETATION AND TREES SHALL REMAIN IN PLACE WHERE FEASIBLE AND SHALL BE PROTECTED DURING CONSTRUCTION ACTIVITIES IN ACCORDANCE WITH THE PROJECT'S ENVIRONMENTAL AND LANDSCAPE PRESERVATION REQUIREMENTS.
8. QUANTITIES SHALL NOT BE DERIVED FROM THESE PLANS. THE DESIGN WAS COMPLETED WITHOUT THE BENEFIT OF SURVEY INFORMATION AND IS INTENDED FOR CONCEPTUAL PURPOSES ONLY.

HE LOCATIONS OF EXISTING ABOVE GROUND AND UNDERGROUND UTILITIES ARE SHOWN IN AN APPROXIMATE WAY ONLY. THE CONTRACTOR SHALL DETERMINE THE EXACT LOCATION OF ALL EXISTING UTILITIES BEFORE COMMENCING WORK. THE CONTRACTOR SHALL BE FULLY RESPONSIBLE FOR ANY AND ALL AMAGES WHICH MIGHT BE CAUSED BY HIS FAILURE TO EXACTLY OCATE ANY AND ALL ABOVE GROUND AND UNDERGROUND TILITIES.

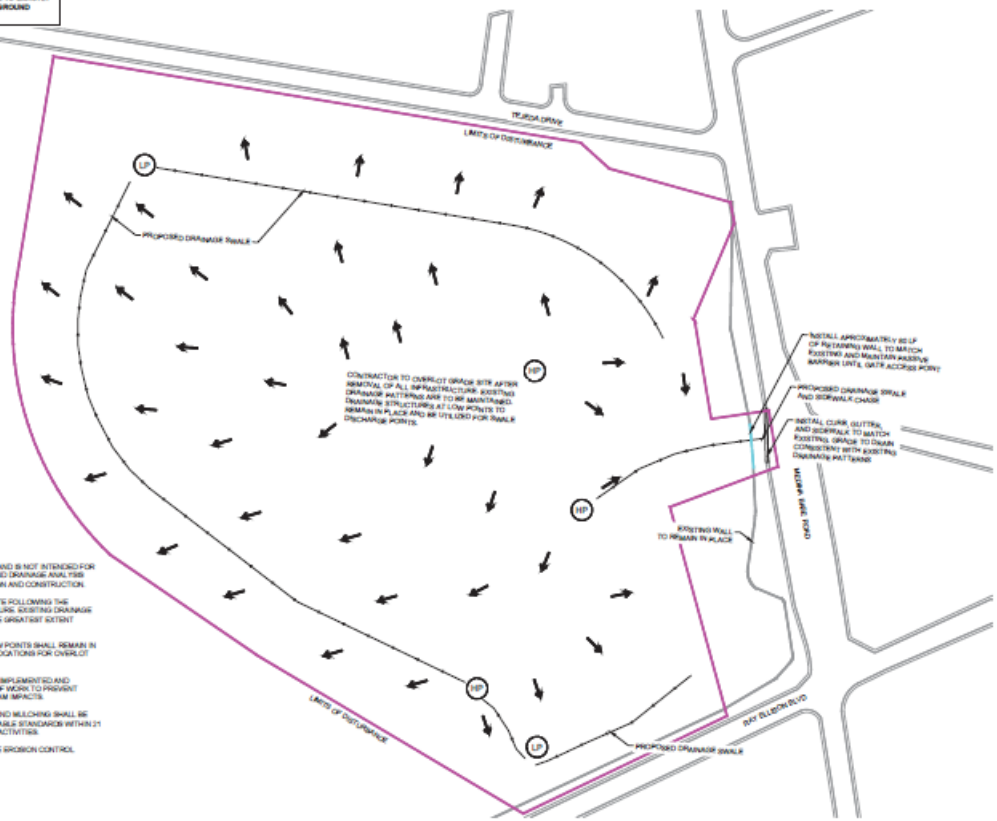

NOTES:

THIS DESIGN IS PRELIMINARY IN NATURE AND IS NOT INTENDED FOR CONSTRUCTION. ADDITIONAL GRADING AND DRAINAGE ANALYSIS WILL BE REQUIRED PRIOR TO FINAL DESIGN AND CONSTRUCTION.

CONTRACTOR SHALL OVERLOT GRADE SITE FOLLOWING THE REMOVAL OF ALL EXISTING INFRASTRUCTURE. EXISTING DRAINAGE PATTERNS ARE TO BE MAINTAINED TO THE GREATEST EXTENT PRACTICABLE.

DRAINAGE STRUCTURES AT EXISTING LOW POINTS SHALL REMAIN IN PLACE AND BE UTILIZED AS DISCHARGE LOCATIONS FOR OVERLOT DRAINAGE SWALES.

EROSION CONTROL MEASURES SHALL BE IMPLEMENTED AND MAINTAINED THROUGHOUT ALL PHASES OF WORK TO PREVENT OFFSITE SEDIMENTATION OR DOWNSTREAM IMPACTS.

TEMPORARY AND PERMANENT SEEDING AND MULCHING SHALL BE INSTALLED IN ACCORDANCE WITH APPLICABLE STANDARDS WITHIN 21 DAYS OF CESSATION OF CONSTRUCTION ACTIVITIES.

SLOPES GREATER THAN 3:1 WILL REQUIRE EROSION CONTROL BLANKET OR APPROVED EQUIVALENT.

GRAPHIC SCALE

(IN FEET)
1 inch = 100 ft.

Know what's below. Call before you dig.

SITE LEGEND

- LIMITS OF DISTURBANCE
- PROPOSED CURB, GUTTER, AND SIDEWALK
- PROPOSED DRAINAGE SWALE
- FLOW ARROW

GENERAL NOTES:

1. THE INTENT OF THESE PLANS IS TO REMOVE ALL MAN MADE MATERIALS AND STRUCTURES, BOTH ABOVE AND BELOW GROUND, TO THE MAXIMUM EXTENT PRACTICABLE. ALL MATERIAL ARE TO BE REMOVED, NOT ABANDONED IN PLACE AND SHALL BE LEGALLY DISPOSED OF AT AN APPROVED OFFSITE FACILITY.
2. EXISTING INFORMATION SHOWN IS A FROM AS-BUILT PLANS "CAPSHART PERMANENT FAMILY HOUSING - SITE PLAN - DATED APRIL 1987 BY ADDIS & NOONAN ASSOCIATES FOR CORPS OF ENGINEERS U.S. ARMY OFFICE OF THE DISTRICT ENGINEER - GALVESTON, TEXAS" AND PLANS "REPAIR SEWER LINE, CAPSHART PLANS - DATED AUGUST 3RD 1965".
3. UTILITY LINES AS SHOWN ON THE PLAN SHEETS ARE SHOWN FROM THE BEST AVAILABLE INFORMATION. ALL INFORMATION SHOWN ON THESE PLANS IS BASED ON THE BEST AVAILABLE DATA AT THE TIME OF PREPARATION. THE CONTRACTOR SHALL IMMEDIATELY NOTIFY THE ENGINEER OF ANY DISCREPANCIES OR DIFFERING FIELD CONDITIONS ENCOUNTERED DURING CONSTRUCTION.
4. CONTRACTOR SHALL FULLY EXCAVATE AND REMOVE ALL EXISTING UTILITIES WITHIN THE LIMITS OF DISTURBANCE. THIS INCLUDES, BUT IS NOT LIMITED TO, ALL PIPES, CONDUITS, CABLES, APPURTENANCES, AND ASSOCIATED MATERIALS SUCH AS BEDDING, ENCASEMENT, OR ANY UNSUITABLE SOILS ENCOUNTERED.
5. ALL EXCAVATED AREAS SHALL BE BACKFILLED AND COMPACTED WITH SUITABLE MATERIALS IN ACCORDANCE WITH RECOMMENDATIONS PROVIDED IN A SITE-SPECIFIC GEOTECHNICAL REPORT, PREPARED AND STAMPED BY A LICENSED PROFESSIONAL ENGINEER.
6. CONTRACTOR SHALL NOTIFY AND COORDINATE WITH ALL AFFECTED UTILITY COMPANIES PRIOR TO THE COMMENCEMENT OF DEMOLITION AND EARTHWORK TO VERIFY EXISTING CONDITIONS AND CONFIRM COMPATIBILITY WITH PROPOSED CONSTRUCTION ACTIVITIES.
7. EXISTING VEGETATION AND TREES SHALL REMAIN IN PLACE WHERE FEASIBLE AND SHALL BE PROTECTED DURING CONSTRUCTION ACTIVITIES IN ACCORDANCE WITH THE PROJECT'S ENVIRONMENTAL AND LANDSCAPE PRESERVATION REQUIREMENTS.
8. QUANTITIES SHALL NOT BE DERIVED FROM THESE PLANS. THE DESIGN WAS COMPLETED WITHOUT THE BENEFIT OF SURVEY INFORMATION AND IS INTENDED FOR CONCEPTUAL PURPOSES ONLY.

PROPOSED IMPROVEMENTS PLAN